# Table Of Contents

**AIRPORT PROFILE & LIST**


Login Page ..... 2

Home Screen ..... 2

Menu Bar ..... 3

Dashboard ..... 3

Airport Profile ..... 4

Area 1 ..... 4

Airport Details ..... 5

View Projects ..... 6

Airport List ..... 7

# LOGIN PAGE

**Enter your Credentials and Passwords**

# HOME Screen

**Open the Airport Profile**

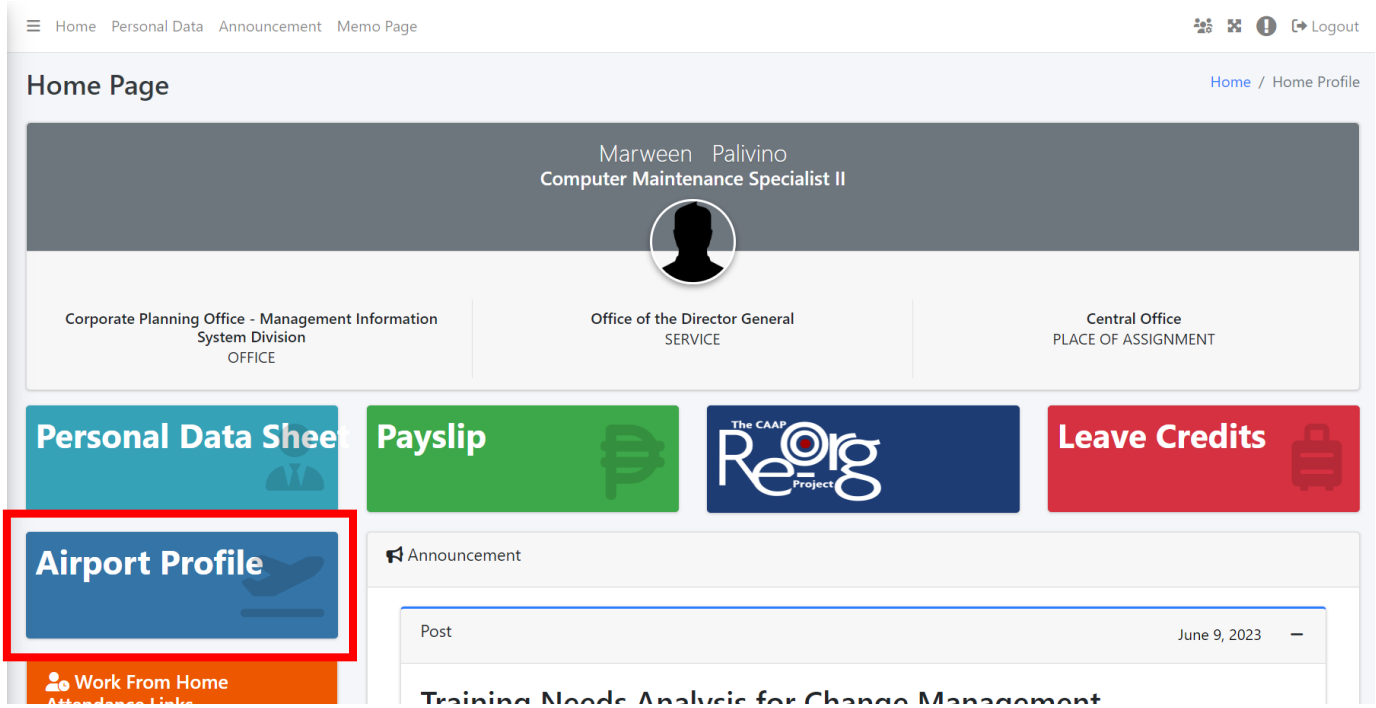

# MENU BAR

**List all the menu link**

Home – The Home Screen

Projects – The List of All CAAP Projects

Airport Profile – Locations of all Airports in the Philippines

Airport List – List of Airport Details

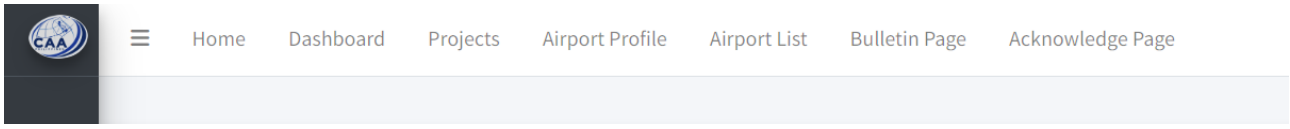


# DASHBOARD

Welcome to the dashboard this is the various button available on the dashboard and their functionalities.

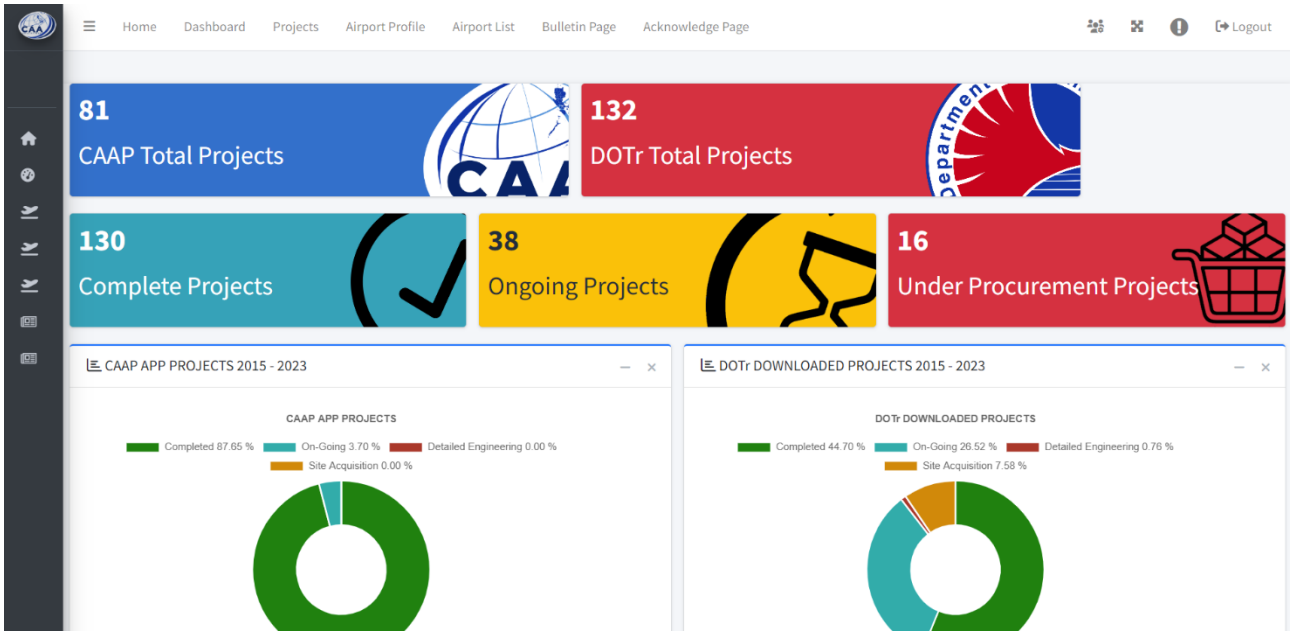


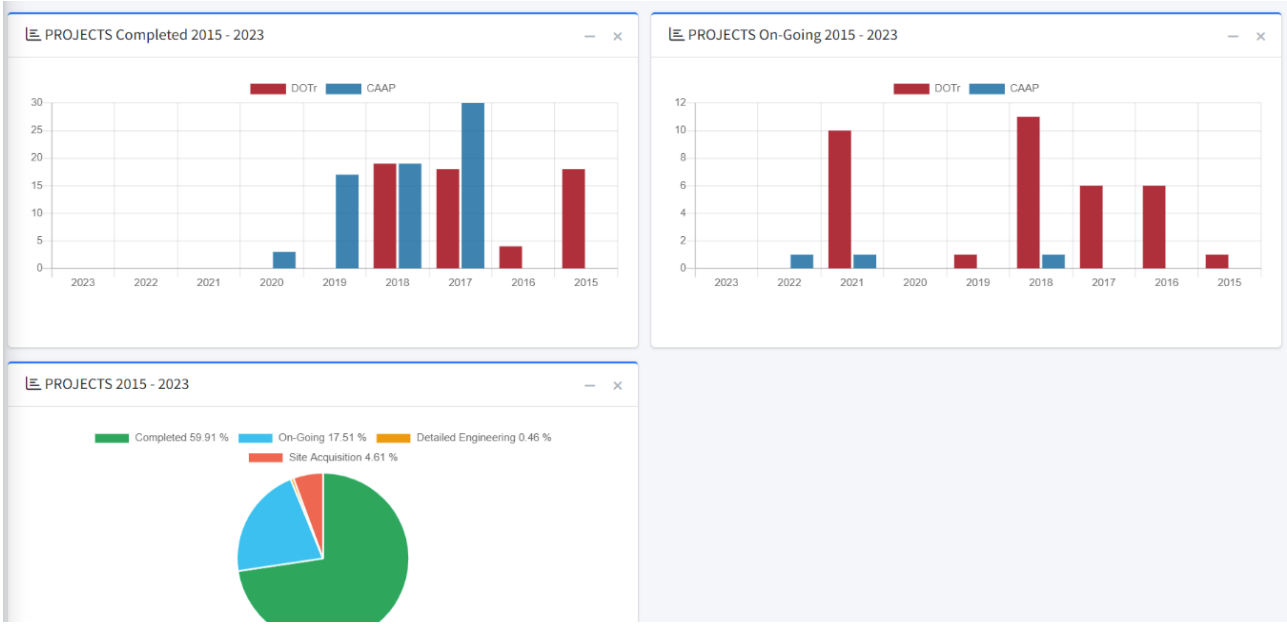

# AIRPORT PROFILE

shown the Philippines' entire CAAP airports area

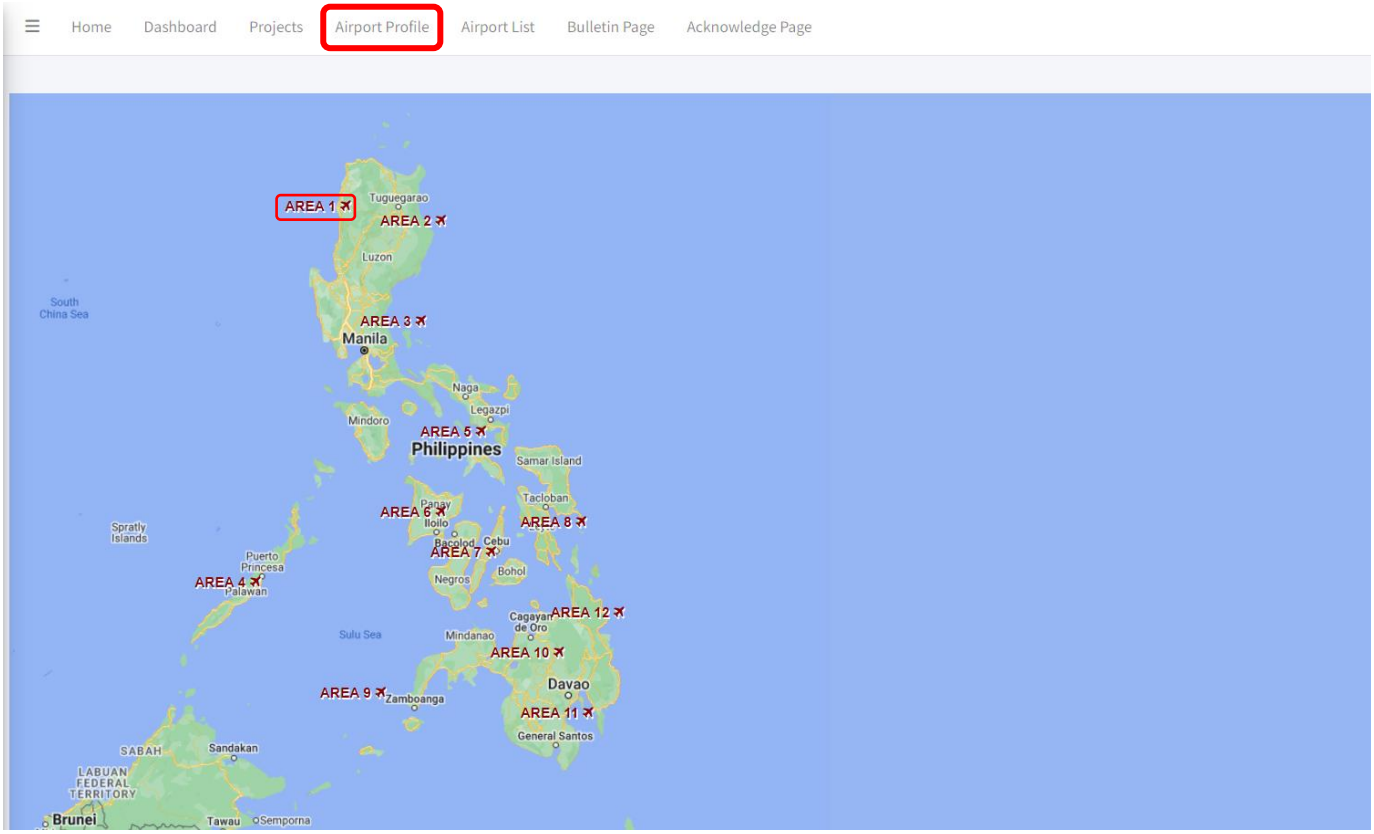


# AREA 1

It displays the location of the airports in Area 1.

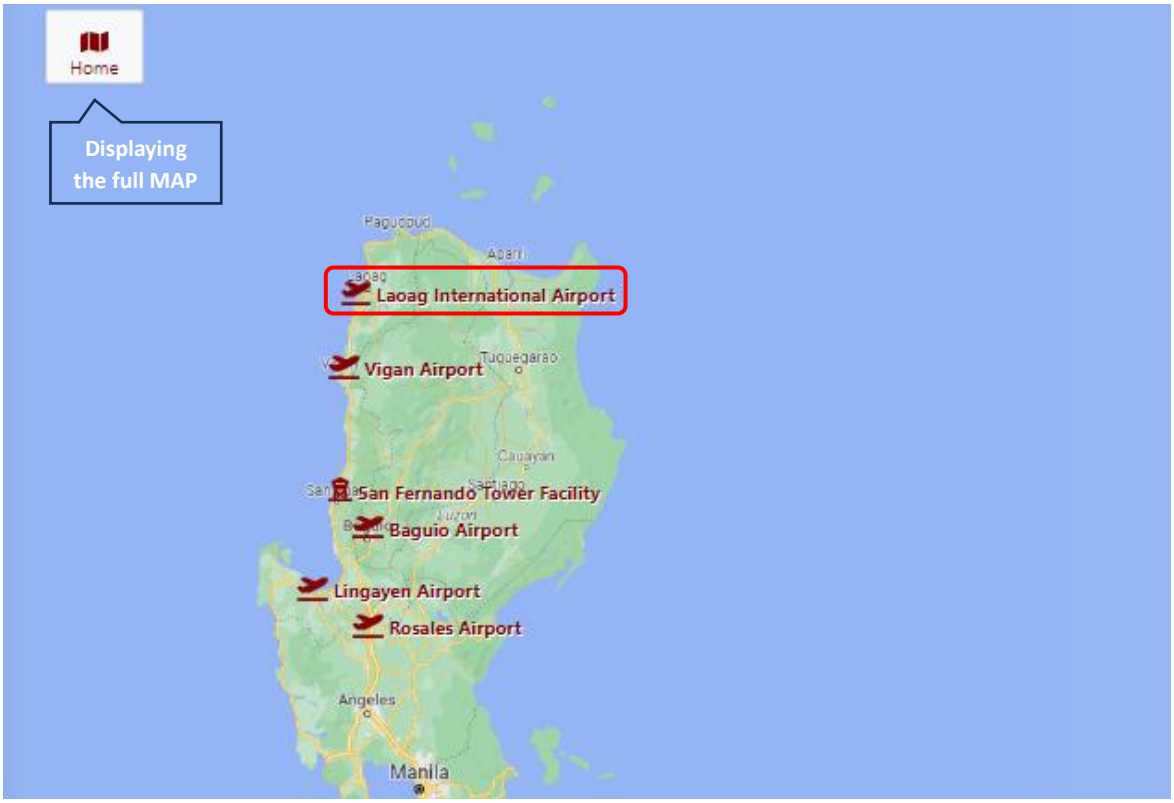

# AIRPORT DETAILS

It Display all the information of the Airport

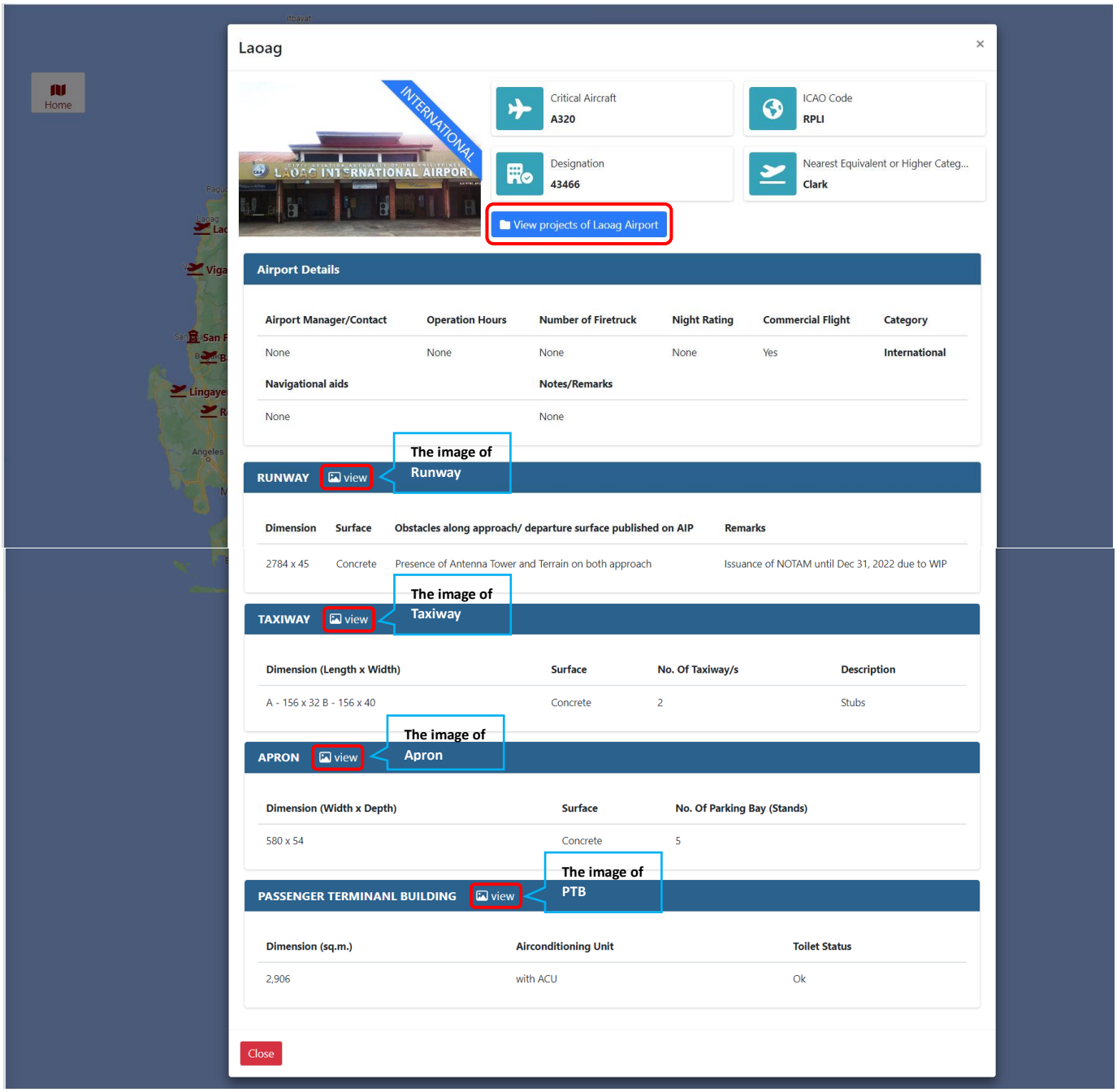

# VIEW PROJECTS

It displayed list of information about the airport you clicked

## Laoag Airport Projects

| ID # | Project Title | Project Description | Location | Contractor | Project Progress | % | Current Status |
|---|---|---|---|---|---|---|---|
| 5 | Laoag International Airport Development Project Cy 2021 | Laoag International Airport Development Project CY 2021 Scope of Works: A. Runway Strip Grade Correction (Area= 431,143.10 sq.m.) B. Expansion of Turnaround Pad @RWY 01, Area= 1,011.938 sq.m. @RWY 19, Area= 6,637.07 sq.m. C. Construction of Access Road L= 336.57m A= 1,346.28 sq.m. W= 4.0m T= 0.25m D. Provision of Double barrel & Manhole (L= 421 m) E. Concreting of VPA (A= 2,959.86) F. Additional Lighting @ VPA= 22 sets G. Miscellaneous Works @ VPA (Curbs & Gutter, Wheel stopper, VPA Island, VPA Markings) H. Slope Protection @ Proposed Access Road (L= 100 li.m.) | **Laoag International Airport** | D.K Jocson Construction | | 0% | On-Going |
| 4 | Laoag International Airport Development Project | Laoag International Airport Development Project (Construction of CHB Fence with Barbed Wire, Runway Strip Grade Correction) | **Laoag International Airport** | None | | 0% | Others |
| 3 | Installation Of Feeder Lines & Construction Of Fuel Day Tank | Installation of Feeder Lines & Construction of Fuel Day Tank | **Laoag International Airport** | Redcar Trading & Construction | | 0% | Complete |
| 2 | Construction Of Sub-Station For Transformer To Be Used For The Newly Constructed Powerhouse | Construction of Sub-Station for Transformer to be used for the newly constructed Powerhouse | **Laoag International Airport** | Redcar Trading & Construction | | 9% | Complete |
| 1 | Construction Of New Administration Building | Construction of New Administration Building | **Laoag International Airport** | Redcar Trading & Construction | | 4% | Complete |

On this site, it displayed information of the airport.

## Airport Profile List

Airport Profile / Airport List

| | | | | | | | Runway | | | | Taxiway | | | | Apron | | | Passenger Terminal Building | | |
|---|---|---|---|---|---|---|---|---|---|---|---|---|---|---|---|---|---|---|---|---|
| / | Name | Category | Critical Aircraft | ICAO Code | Designation | Nearest Equivalent or Higher Category Airport | Dimension | Surface | Obstacles along approach/ departure surface published on AIP | Remarks | Dimension (Length x Width) | Surface | No. Of Taxiway/s | Description | Dimension (Width x Depth) | Surface | No. Of Parking Bay (Stands) | Dimension (sq.m.) | Airconditioning Unit | Toilet St |
| | **Alabat** | Community | GenAv | RPLY | 45047 | NAIA | 670 x 40 | Macadam | No published obstacle in AIP | None | None | None | 0 | None | None | None | 0 | None | None | None |
| | **Allah Valley** | Community | GenAv | RPMA | 16/34 | Cotabato | 1340 x 30 | Macadam | No published obstacle in AIP | None | none | none | 0 | none | none | none | 0 | none | none | none |
| | **Antique** | Principal Class II | Q400 | RPVS | 13363 | Iloilo | 1370 x 30 | Concrete with Asphalt Overlay | No obstacles on both approach surface (18/36) | 36m displacement on rwy 36; Asphalt Overlay from CY 2019 - 2021 | 43 x 20 | Concrete | 2 | 45 - degrees | 150 x 60 | Concrete | 2 | 432 | with ACU | Ok |
| | **Bacolod-Silay** | Principal Class I | A320 | RPVB | 46631 | Iloilo | 2502 x 45 | Concrete | Presence of high ground terrain, trees, and communication antennas on both approach/ departure surfaces | Constructed 2008 | 196 x 26 | Concrete | 2 | Stubs | 219 x 123 | Concrete | 5 | 6, 186 | with ACU (Ongoing Upgrading of ACU) | Ok |
| | **Bacon** | Community | GenAv/ Cessna Caravan or equivalent | RPLZ | 43466 | Legazpi | 1000 x 30 | Macadam | No published obstacle in AIP | None | None | None | 0 | None | 80 x 80 | Macadam | 2 | 88 (Terminal Shed) | None | None |
| | **Bagabag** | Community | GenAv/ Cessna Caravan or equivalent | RPUZ | 46631 | Cauayan | 1200 x 30 | Concrete | Presence of Communicatio Tower and trees on approach 09, Mountain on | None | 75 x 18 | Concrete | 2 | 45 degrees | 180 x 80 | Concrete | 5 | 558 | None | ForRehal |

# AIRPORT LIST

Zoom in view

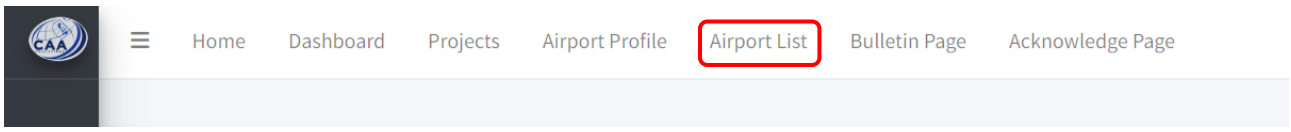


it shown all airports and details in one display

Airport Profile List

Airport Profile / Airport List

| / | Name | Category | Critical Aircraft | ICAO Code | Designation | Nearest Equivalent or Higher Category Airport | Runway | | | | Taxiway | | | | Apron | | | Passenger Terminal Building | | |
|---|---|---|---|---|---|---|---|---|---|---|---|---|---|---|---|---|---|---|---|---|
| | | | | | | | Dimension | Surface | Obstacles along approach/ departure surface published on AIP | Remarks | Dimension (Length x Width) | Surface | No. Of Taxiway/s | Description | Dimension (Width x Depth) | Surface | No. Of Parking Bay (Stands) | Dimension (sq.m.) | Airconditioning Unit | Toilet St |
| | **Alabat** | Community | GenAv | RPLY | 45047 | NAIA | 670 x 40 | Macadam | No published obstacle in AIP | None | None | None | 0 | None | None | None | 0 | None | None | None |
| | **Allah Valley** | Community | GenAv | RPMA | 16/34 | Cotabato | 1340 x 30 | Macadam | No published obstacle in AIP | None | none | none | 0 | none | none | none | 0 | none | none | none |
| | **Antique** | Principal Class II | Q400 | RPVS | 13363 | Iloilo | 1370 x 30 | Concrete with Asphalt Overlay | No obstacles on both approach surface (18/36) | 36m displacement on rwy 36; Asphalt Overlay from CY 2019 - 2021 | 43 x 20 | Concrete | 2 | 45 - degrees | 150 x 60 | Concrete | 2 | 432 | with ACU | Ok |
| | **Bacolod-Silay** | Principal Class I | A320 | RPVB | 46631 | Iloilo | 2502 x 45 | Concrete | Presence of high ground terrain, trees, and communication antennas on both approach/ departure surfaces | Constructed 2008 | 196 x 26 | Concrete | 2 | Stubs | 219 x 123 | Concrete | 5 | 6, 186 | with ACU (Ongoing Upgrading of ACU) | Ok |
| | **Bacon** | Community | GenAv/ Cessna Caravan or equivalent | RPLZ | 43466 | Legazpi | 1000 x 30 | Macadam | No published obstacle in AIP | None | None | None | 0 | None | 80 x 80 | Macadam | 2 | 88 (Terminal Shed) | None | None |
| | **Bagabag** | Community | GenAv/ Cessna Caravan or equivalent | RPUZ | 46631 | Cauayan | 1200 x 30 | Concrete | Presence of Communicatio Tower and trees on approach 09, Mountain on | None | 75 x 18 | Concrete | 2 | 45 degrees | 180 x 80 | Concrete | 5 | 558 | None | ForRehal |